PETA PHOTOTAGGING FASILITAS UMUM DAN TEMPAT WISATA DESA PALONGAAN

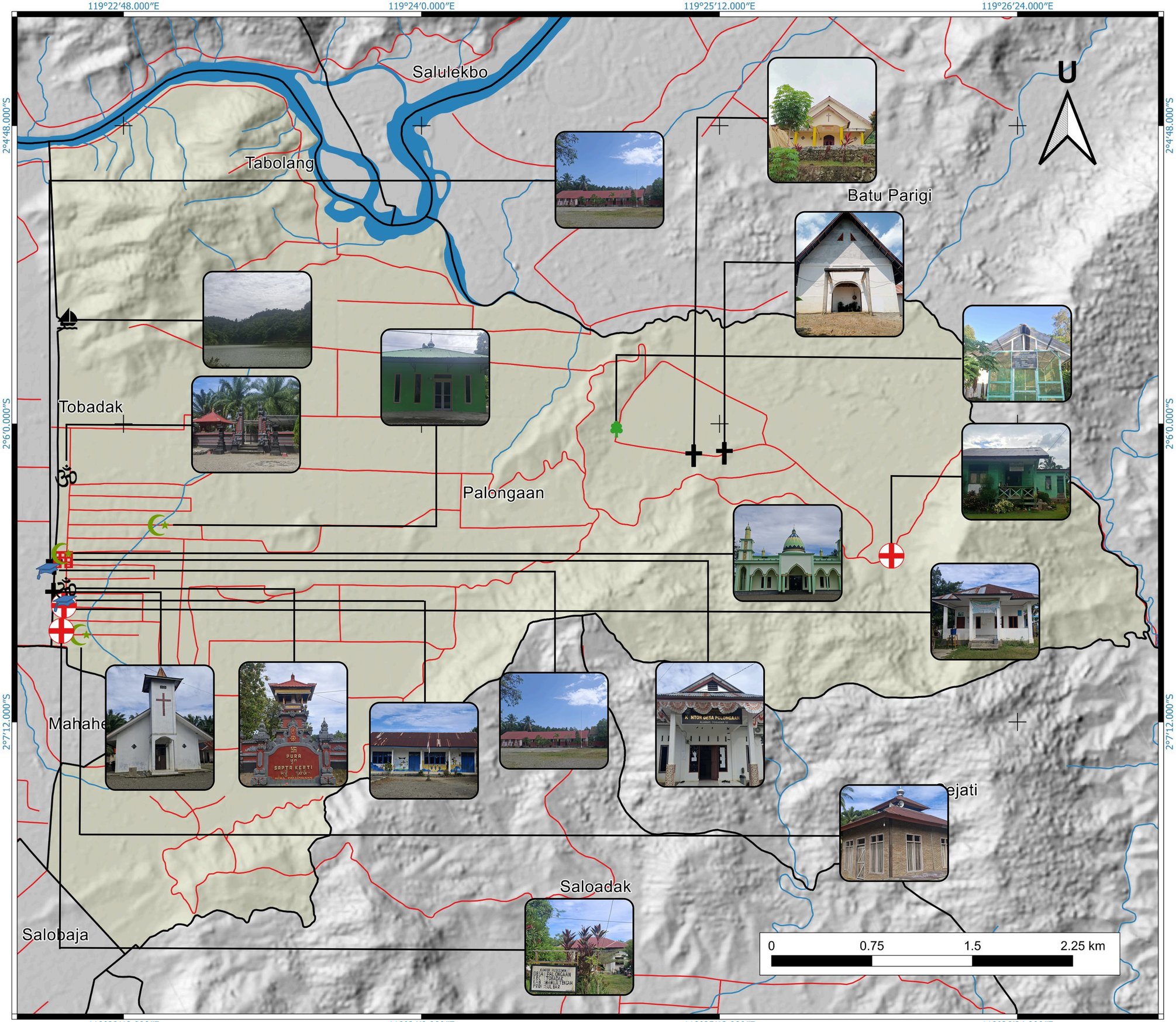

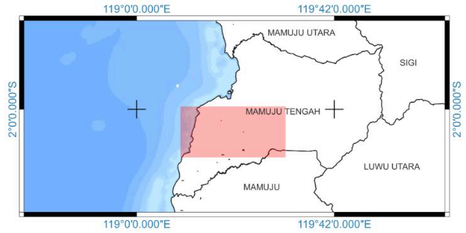

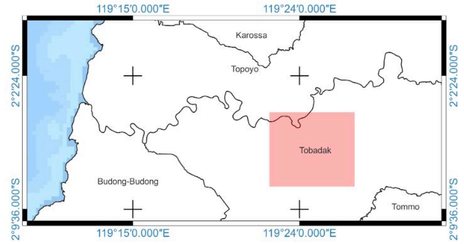

Keterangan:

- Batas Desa
- Sungai
- Jalan
- Fasilitas Bidang Pertanian
- Kantor Pemerintahan
- Sarana Kesehatan
- Sarana Pendidikan
- Tempat Wisata
- Gereja
- Masjid
- Pura

Datum: WGS 84 (World Geodetic System 1984)
Proyeksi : -
Sumber data:
1. Badan Infromasi Geospasial (BIG)
2. RBI skala 1:50.000 Kabupaten Mamuju Tengah

Dibuat oleh:
Tim KKN-PPM UGM Semarak Tobadak 2025
Desa Palongaan, Kecamatan Tobadak
Kabupaten Mamuju Tengah
2025